2025 Opinion of Value

Effective Date of Value: 1/1/2025

Date of Report: 3/18/2026

Owner and Subject Property Information

Account Number:	**03086925**	CAD:	**Tarrant**
Owner Name:	**PETTITT, ANTHONY**	Property Address:	**3125 OVERTON PARK DR E** **FORT WORTH, TEXAS**
Mailing Address:	**121 NE 21ST ST** **FORT WORTH,TX 76164-8525**	Legal Description:	**TANGLEWOOD ADDITION-FORT WORTH** **Block 1 Lot 5**
Land Use Code:	**A1**	Land Use Description:	**Residential - Single Family**

Land Area	Total Bldg Area	NetRentable Area	Bldg Class	NBHD/Econ Area	Key Map	Year Built
16,356 SF	**3,277 SF**	**3,277**	**Above Average**	**4T001Z**	**075Y**	**1961**

Value Assessment Summary

Method	Value	Comment
CAD Preliminary Market Value	$909,091	
Sales	$1,622,912	
UE	$952,827	
Opinion of Value	**$952,827**	

Opinion of Value based on Equal and Uniform Approach.

Tarrant Residential Equity Comp Grid							
	Subject	Comp A		Comp B		Comp C	
Prop ID	03086925	03088936		03087166		03087972	
Neighborhood	4T001Z	4T001Z		4T001Z		4T001Z	
Address	3125 OVERTON PARK DR E	4116 HARLANWOOD DR		3205 CHAPARRAL LN		3104 SPANISH OAK DR	
Distance (miles)		.21		.1		.25	
Quality	Above Average	Above Average		Above Average		Above Average	
Condition	Good	Excellent		Excellent		Good	
Year Built	1961	1961		1956		1956	
Actual Area	3,277 SF	3,396 SF	($8,330)	3,836 SF	($39,130)	3,265 SF	$840
Land Value	$695,340	$648,450	$46,890	$604,440	$90,900	$603,000	$92,340
Feature Value	$154,584	$49,706	$104,878	$18,554	$136,030	$17,083	$137,501
Eff Year Built	1995	2015	($76,898)	2015	($76,600)	1995	$0
Quality Adj	Above Average	Above Average	$0	Above Average	$0	Above Average	$0
Condition Adj	Good	Excellent	$0	Excellent	$0	Good	$0
Noticed Value	$909,091	$768,978		$766,000		$658,766	
Net Adjustment			$66,540		$111,200		$230,681
Indicated Value			$835,518		$877,200		$889,447
Median Equity Value	$952,827						
Picture							

Tarrant Residential Equity Comp Grid							
	Subject	Comp D		Comp E		Comp F	
Prop ID	03086925	03088588		03087190		03086933	
Neighborhood	4T001Z	4T001Z		4T001Z		4T001Z	
Address	3125 OVERTON PARK DR E	3101 WILD PLUM DR		3125 CHAPARRAL LN		3121 OVERTON PARK DR E	
Distance (miles)		.37		.07		.03	
Quality	Above Average	Above Average		Above Average		Above Average	
Condition	Good	Good		Good		Good	
Year Built	1961	1959		1956		1962	
Actual Area	3,277 SF	4,190 SF	($63,910)	2,545 SF	$51,240	3,778 SF	($35,070)
Land Value	$695,340	$724,350	($29,010)	$607,080	$88,260	$684,600	$10,740
Feature Value	$154,584	$53,030	$101,554	$19,432	$135,152	$17,935	$136,649
Eff Year Built	1995	1995	$0	1995	$0	1995	$0
Quality Adj	Above Average	Above Average	$0	Above Average	$0	Above Average	$0
Condition Adj	Good	Good	$0	Good	$0	Good	$0
Noticed Value	$909,091	$887,873		$660,000		$826,521	
Net Adjustment			$8,634		$274,652		$112,319
Indicated Value			$896,507		$934,652		$938,840
Median Equity Value	$952,827						
Picture							

Tarrant Residential Equity Comp Grid							
	Subject		Comp G		Comp H		Comp I
Prop ID	03086925		03086941		03087182		03087085
Neighborhood	4T001Z		4T001Z		4T001Z		4T001Z
Address	3125 OVERTON PARK DR E		3117 OVERTON PARK DR E		3129 CHAPARRAL LN		3208 CHAPARRAL LN
Distance (miles)			.05		.08		.1
Quality	Above Average		Above Average		Above Average		Above Average
Condition	Good		Excellent		Good		Good
Year Built	1961		1960		1956		1957
Actual Area	3,277 SF		3,779 SF	($35,140)	2,583 SF	$48,580	2,943 SF	$23,380
Land Value	$695,340		$691,875	$3,465	$612,000	$83,340	$621,990	$73,350
Feature Value	$154,584		$29,118	$125,466	$14,901	$139,683	$0	$154,584
Eff Year Built	1995		2015	($94,140)	1995	$0	1995	$0
Quality Adj	Above Average		Above Average	$0	Above Average	$0	Above Average	$0
Condition Adj	Good		Excellent	$0	Good	$0	Good	$0
Noticed Value	$909,091		$941,400		$693,000		$720,293	
Net Adjustment				($349)		$271,603		$251,314
Indicated Value				$941,051		$964,603		$971,607
Median Equity Value		$952,827					
Picture							

Tarrant Residential Equity Comp Grid							
	Subject	Comp J		Comp K		Comp L	
Prop ID	03086925	03087204		03087212		03086976	
Neighborhood	4T001Z	4T001Z		4T001Z		4T001Z	
Address	3125 OVERTON PARK DR E	3121 CHAPARRAL LN		3117 CHAPARRAL LN		3101 OVERTON PARK DR E	
Distance (miles)			.07		.08		.1
Quality	Above Average	Above Average		Above Average		Above Average	
Condition	Good	Good		Average		Good	
Year Built	1961	1956		1956		1956	
Actual Area	3,277 SF	2,357 SF	$64,400	3,000 SF	$19,390	3,503 SF	($15,820)
Land Value	$695,340	$590,400	$104,940	$601,200	$94,140	$658,650	$36,690
Feature Value	$154,584	$27,314	$127,270	$15,020	$139,564	$49,579	$105,005
Eff Year Built	1995	1995	$0	1975	$67,958	1995	$0
Quality Adj	Above Average	Above Average	$0	Above Average	$0	Above Average	$0
Condition Adj	Good	Good	$0	Average	$0	Good	$0
Noticed Value	$909,091	$676,800		$679,585		$1,060,230	
Net Adjustment			$296,610		$321,052		$125,875
Indicated Value			$973,410		$1,000,637		$1,186,105
Median Equity Value	$952,827						
Picture							

Tarrant Residential Equity Comp Grid						
	Subject	Comp M		Comp N		
Prop ID	03086925	03086895		03087042		
Neighborhood	4T001Z	4T001Z		4T001Z		
Address	3125 OVERTON PARK DR E	3217 OVERTON PARK DR E		3124 CHAPARRAL LN		
Distance (miles)		.08		.03		
Quality	Above Average	Above Average		Above Average		
Condition	Good	Good		Average		
Year Built	1961	1956		1956		
Actual Area	3,277 SF	4,145 SF	($60,760)	3,199 SF	$5,460	
Land Value	$695,340	$662,400	$32,940	$650,880	$44,460	
Feature Value	$154,584	$1,822	$152,762	$15,611	$138,973	
Eff Year Built	1995	1995	$0	1975	$92,453	
Quality Adj	Above Average	Above Average	$0	Above Average	$0	
Condition Adj	Good	Good	$0	Average	$0	
Noticed Value	$909,091	$1,075,035		$924,531		
Net Adjustment			$124,942		$281,346	
Indicated Value			$1,199,977		$1,205,877	
Median Equity Value	$952,827					
Picture						

Owner Name: **PETTITT, ANTHONY** Account Number: **03086925**	Address: **3125 OVERTON PARK DR E** **FORT WORTH, TX**

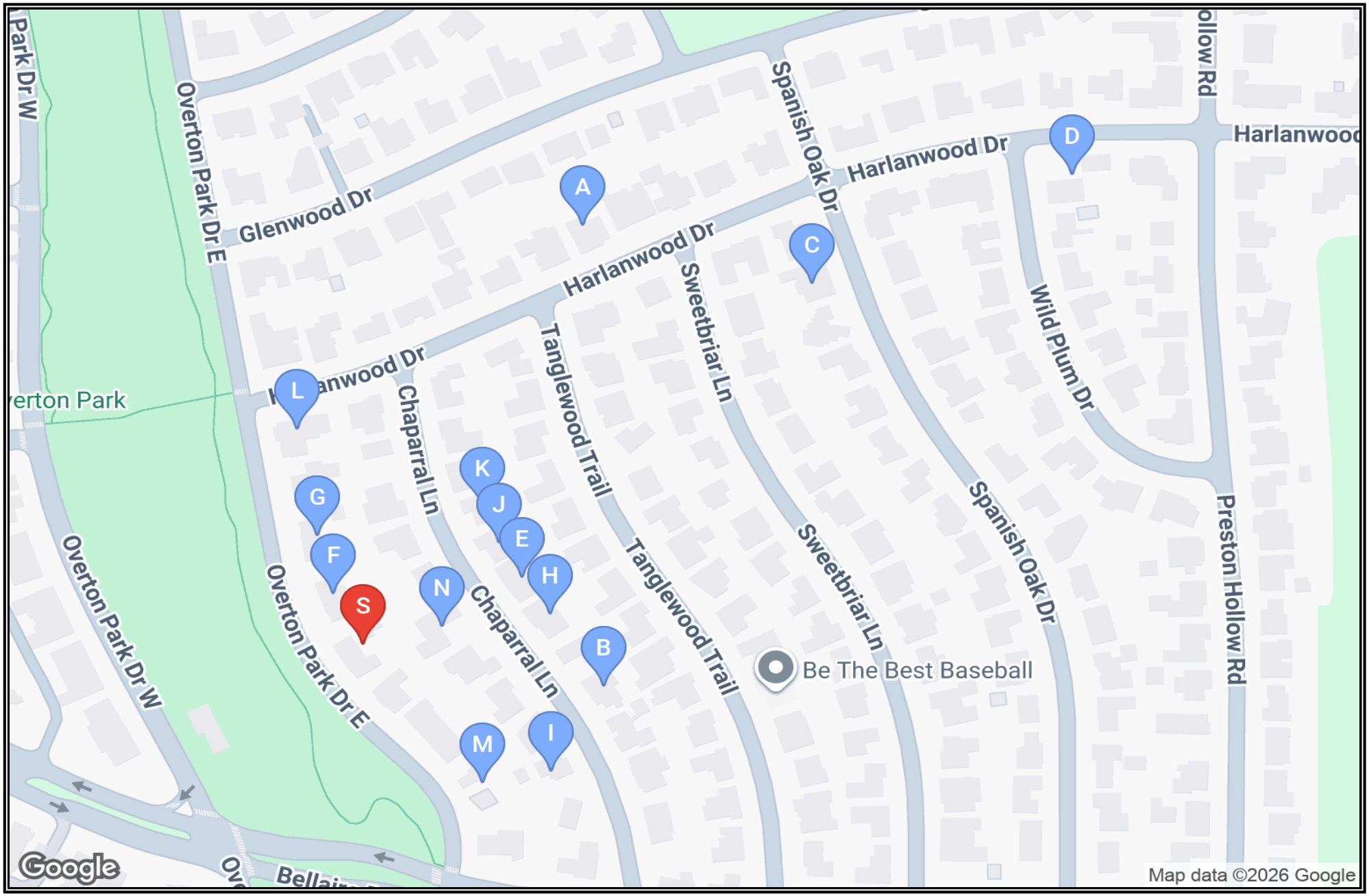

Tarrant Residential Sales Comp Grid							
	Subject		Comp A		Comp B		Comp C
Prop ID	03086925		00150932		06618251		04760743
Neighborhood	4T001Z		4T001Z		3X100U		1X120A
Address	3125 OVERTON PARK DR E		3813 TRAILWOOD LN		3804 CHEROKEE DR		2706 SHAVANO CT
Distance (miles)			.57		23.33		20.45
Quality	Above Average		Above Average		Above Average		Above Average
Condition	Good		Excellent		Good		Good
Year Built	1961		1954		1995		1980
Sale Date			2/12/2024		2/27/2024		1/2/2024
Sale Price			$1,100,000		$573,500		$619,000
Time Adj				$0		$0		$0
Time Adj Sale Price			$1,100,000		$573,500		$619,000
Actual Area	3,277 SF		2,581 SF	$48,720	3,316 SF	($2,730)	3,238 SF	$2,730
Land Value	$695,340		$621,780	$73,560	$100,000	$595,340	$112,500	$582,840
Feature Value	$154,584		$20,835	$133,749	$16,529	$138,055	$20,501	$134,083
Eff Year Built	1995		2015	($110,000)	1995	$0	1995	$0
Quality Adj	Above Average		Above Average	$0	Above Average	$0	Above Average	$0
Condition Adj	Good		Excellent	$0	Good	$0	Good	$0
Noticed Value	$909,091		$891,461		$608,309		$598,606	
Net Adjustment				$146,029		$730,665		$719,653
Indicated Value				$1,246,029		$1,304,165		$1,338,653
Median Sales Value		$1,622,912					
Picture							

Tarrant Residential Sales Comp Grid							
	Subject		Comp D		Comp E		Comp F
Prop ID	03086925		00661899		03089088		02104075
Neighborhood	4T001Z		4C100B		4T001Z		4T003F
Address	3125 OVERTON PARK DR E		3817 CRESTWOOD TERR		4217 GLENWOOD DR		3924 THISTLE LN
Distance (miles)			4.79		.18		1.16
Quality	Above Average		Above Average		Excellent		Above Average
Condition	Good		Good		Good		Good
Year Built	1961		1951		2011		1965
Sale Date			2/15/2024		3/27/2024		2/22/2024
Sale Price			$1,300,000		$2,075,000		$1,420,000
Time Adj			$0		$0		$0
Time Adj Sale Price			$1,300,000		$2,075,000		$1,420,000
Actual Area	3,277 SF		3,184 SF	$6,510	4,535 SF	($88,060)	3,241 SF	$2,520
Land Value	$695,340		$231,840	$463,500	$630,840	$64,500	$223,750	$471,590
Feature Value	$154,584		$17,424	$137,160	$116,547	$38,037	$32,817	$121,767
Eff Year Built	1995		1995	$0	2011	($166,000)	1995	$0
Quality Adj	Above Average		Above Average	$0	Excellent	($199,142)	Above Average	$0
Condition Adj	Good		Good	$0	Good	$199,142	Good	$0
Noticed Value	$909,091		$883,890		$2,075,000		$875,989	
Net Adjustment				$607,170		($151,523)		$595,877
Indicated Value				$1,907,170		$1,923,477		$2,015,877
Median Sales Value		$1,622,912					
Picture							
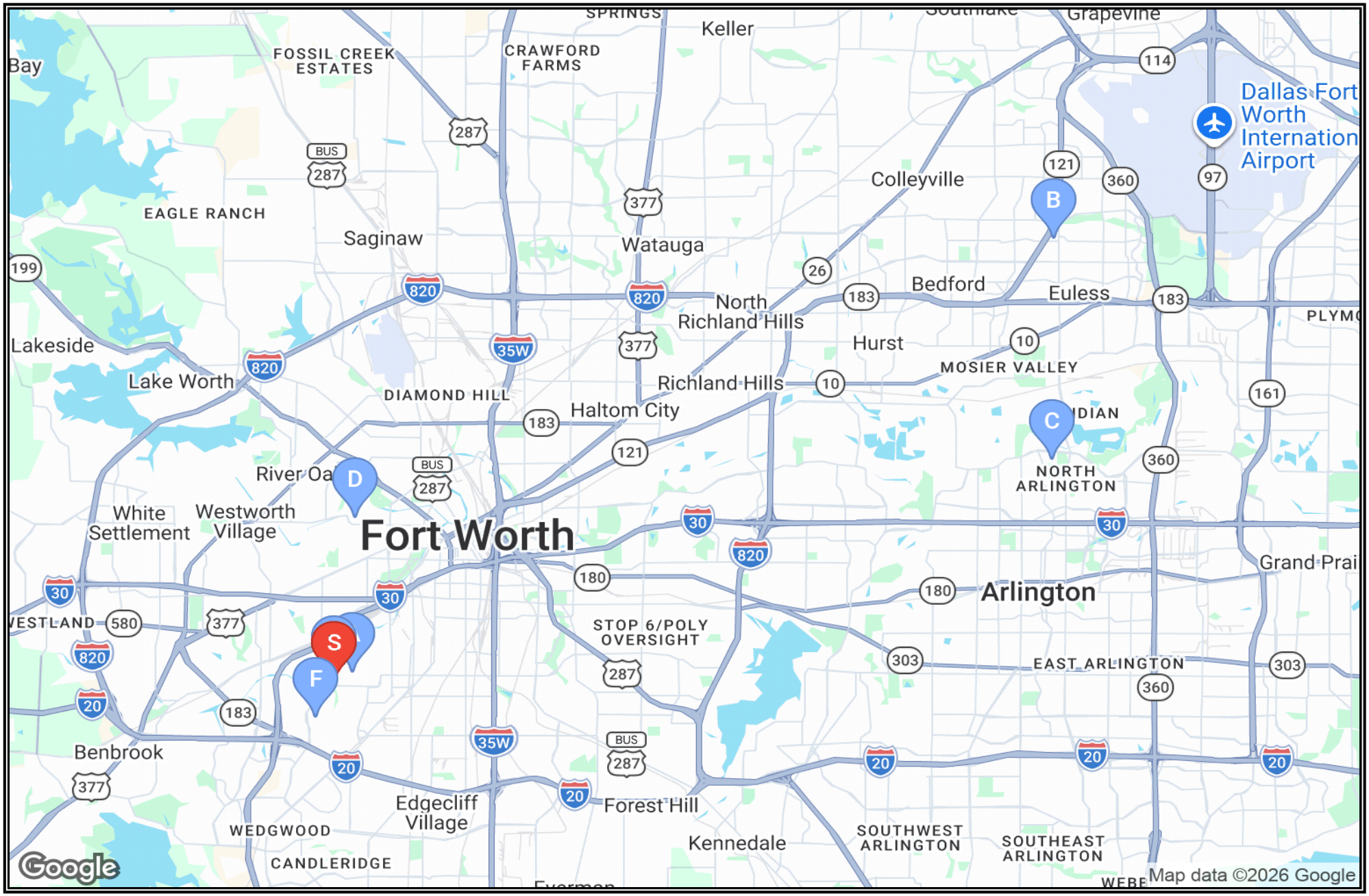
Owner Name: **PETTITT, ANTHONY** Account Number: **03086925**	Address: **3125 OVERTON PARK DR E** **FORT WORTH, TX**